Webfleet SAT

Monitor your fleet worldwide via satellite

Stay connected 24/7, anywhere in the globe

Does your fleet constantly run into areas beyond cellular coverage? Webfleet SAT keeps your vehicles connected with global satellite coverage powered by Iridium® Satellite Network. Rest assured, you'll have the reliable connection needed for round-the-clock vehicle tracking.

iridium® connected

Contents

1. Introduction
   - What's new
   - How does it work?
   - What do we offer to our customers?
2. Summary
   - Highlights
3. Features
   - Product features
   - Global satellite coverage
   - Iridium Short Burst Data – our key differentiator
4. Benefits
5. Requirements and price
6. Appendix
   - Technical specifications
   - Competition summary (internal use only)

Introduction

- In 2021, cellular coverage was around 86%. Satellite communication is key for areas beyond cellular coverage.
- Webfleet SAT is an additional service using a satellite network to ensure your fleet is still connected while running beyond cellular coverage.
- Track your vehicles via satellite communications powered by the Iridium® Satellite Network.
- Get notifications when the vehicle enters/leaves predefined areas beyond cellular coverage.
- Webfleet SAT is offered with the combination of LINK 7XX and Iridium Edge.
- Iridium Edge, a ruggedised IP 67 satellite communication device, is designed to withstand harsh environments and offers a robust power supply for industrial installations.

Iridium Edge

Satellite add-on device for truly global coverage

Source: Statista – Mobile coverage rate by technology worldwide from 2011 to 2027.

How does it work?

Gain maximum connectivity by plugging Iridium Edge into the LINK 7x0 using the adapter cable.

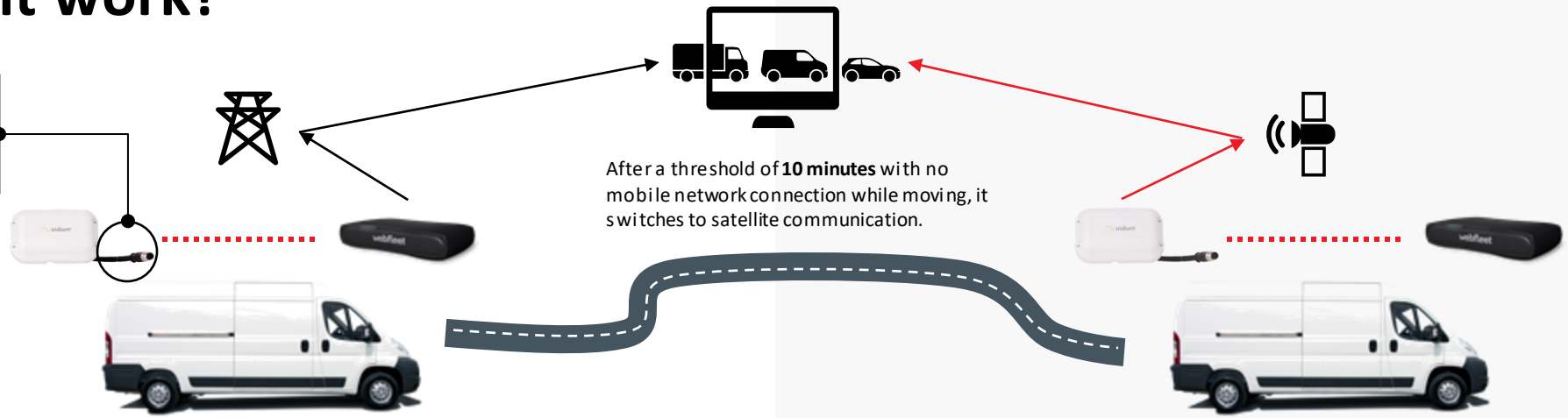

After a threshold of **10 minutes** with no mobile network connection while moving, it switches to satellite communication.

1 Cellular coverage

In cellular coverage areas, the LINK 7x0 transmits data live directly to Webfleet.

When returning to cellular coverage:

- Position intervals every 10 seconds
- Last position update every minute in Webfleet
- All queued messages are updated to Webfleet
- All communication between LINK 7x0 and Webfleet returns to real-time

Depending on the coverage area, communication with Webfleet will follow one of the scenarios.

2 Beyond reach of cellular coverage

Beyond cellular coverage areas, Iridium Edge transmits **position** to Webfleet via **satellite** communication.

When running beyond cellular coverage:

- Position intervals every minute
- Last position update every 10 minutes in Webfleet
- All regular messages, alerts are stored and transmitted when network coverage returns[1]

1 - Data storage capacity may vary dependent on the number of events when outside network coverage.

What do we offer to our customers?

Who are our customers?	What are their main concerns?	How can Webfleet Solutions help?
Customers with fleets running in remote areas providing services of goods or passengers transportation	Need for a reliable solution to track their vehicles in remote desertic areas anywhere on the globe	• Global coverage • Real-time tracking update while in cellular coverage • Every 10 minutes update, via satellite communication when running beyond cellular coverage
	Need to have uninterrupted trip record during the whole transportation process	• All trip and records registered in Webfleet
	Need to be alerted when vehicle enters or leaves a certain location	• Geo-fence alerts in Webfleet, even beyond cellular coverage
	Control the risk of not knowing where drivers are when working beyond cellular coverage	• Iridium Edge add-on allows Webfleet to provide reliable tracking of vehicles in remote areas
	Need to record driver behaviour and trip information when running in remote areas	• Driving events are recorded[1] and uploaded to Webfleet when vehicle returns to cellular coverage
	Robust hardware that works in harsh external environments (eg, deserts)	• Iridium Edge is a ruggedised device capable of resisting extreme conditions (IP 67 certified)

1 - Data storage capacity may vary depending on the number of events when outside network coverage.

Highlights

Webfleet SAT is the add-on solution to be connected 24/7 with your fleet in remote coverage areas anywhere in the globe.

- Global coverage provided by Iridium Short Burst Data® (SBD)
- Tracking position with one minute interval in Webfleet
- Trace view of vehicle position in a selected time range
- Geo-fence notifications when vehicles enter or leave a defined area
- Data storage to buffer[1] all LINK data when outside mobile network areas
- Ruggedised IP67 satellite add-on to withstand harsh environments and with power supply for industrial installations

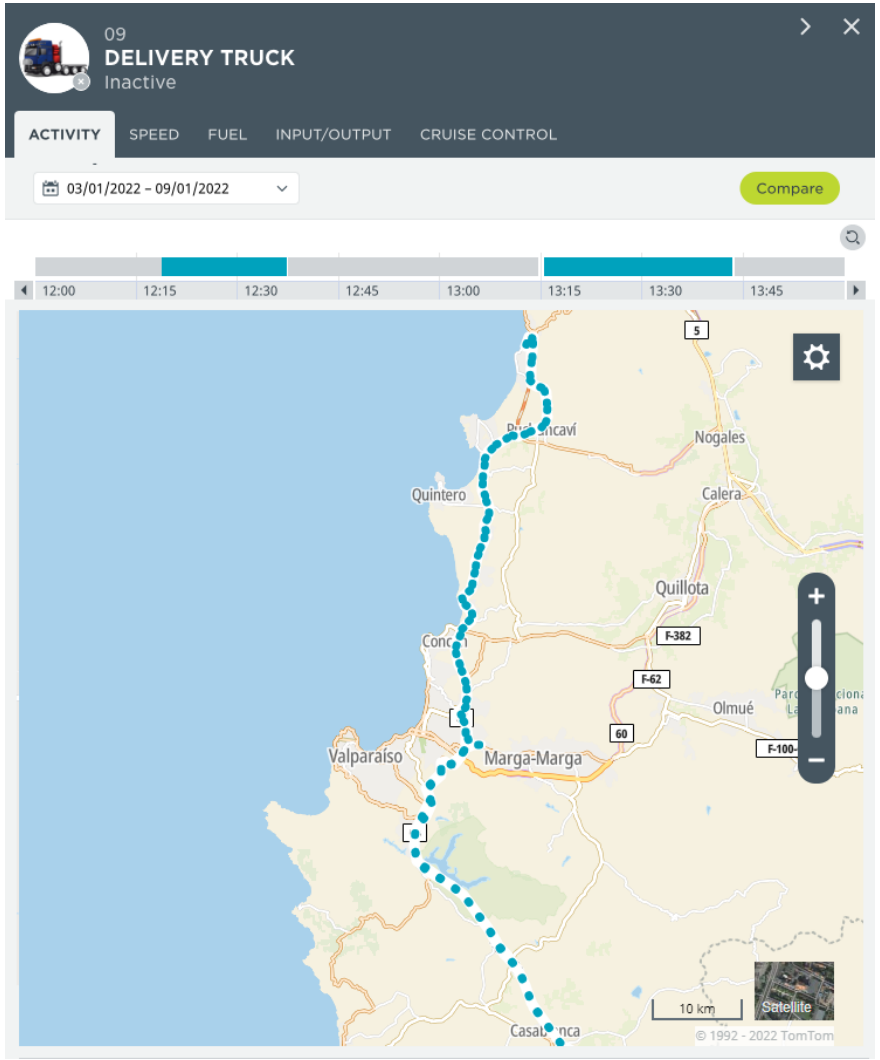

Webfleet map providing trace while in remote coverage

1 - Data storage capacity may vary depending on the number of events when outside network coverage.

Product features

Track and trace via satellite[1]

When running beyond cellular coverage areas, you get tracking position intervals every one minute.

Geo-fence alerts

Get notified whenever a vehicle enters or leaves a previously designated area, even beyond cellular coverage area.

Satellite network

Global coverage provided by Iridium Short Burst Data® (SBD®): use of 66 cross-linked Low Earth Orbit (LEO) satellites.

Data storage

When in remote network areas, data will be stored up to 40 hours while driving.

Rugged design

Iridium Edge has a robust case capable of withstanding harsh environments and a power supply cable for industrial installations. IP67 certified.

1 – When running beyond cellular coverage areas, updates in Webfleet will occurs every 10 minutes, containing tracking positions collected every minute.

Global satellite coverage

Track your vehicles in Webfleet 24/7, anywhere in the globe.

When running beyond cellular coverage areas, your Webfleet vehicle tracking is provided by satellite communications via Iridium Short Burst Data®.

In the user interface, know when satellite mode is active:

1. In vehicle list and vehicle module
2. Satellite icon on the map
3. Last position update every 10 minutes with one-minute interval position points on the map

Beyond coverage area, all vehicle data is buffered and restored[1] when vehicle rejoins cellular network coverage.

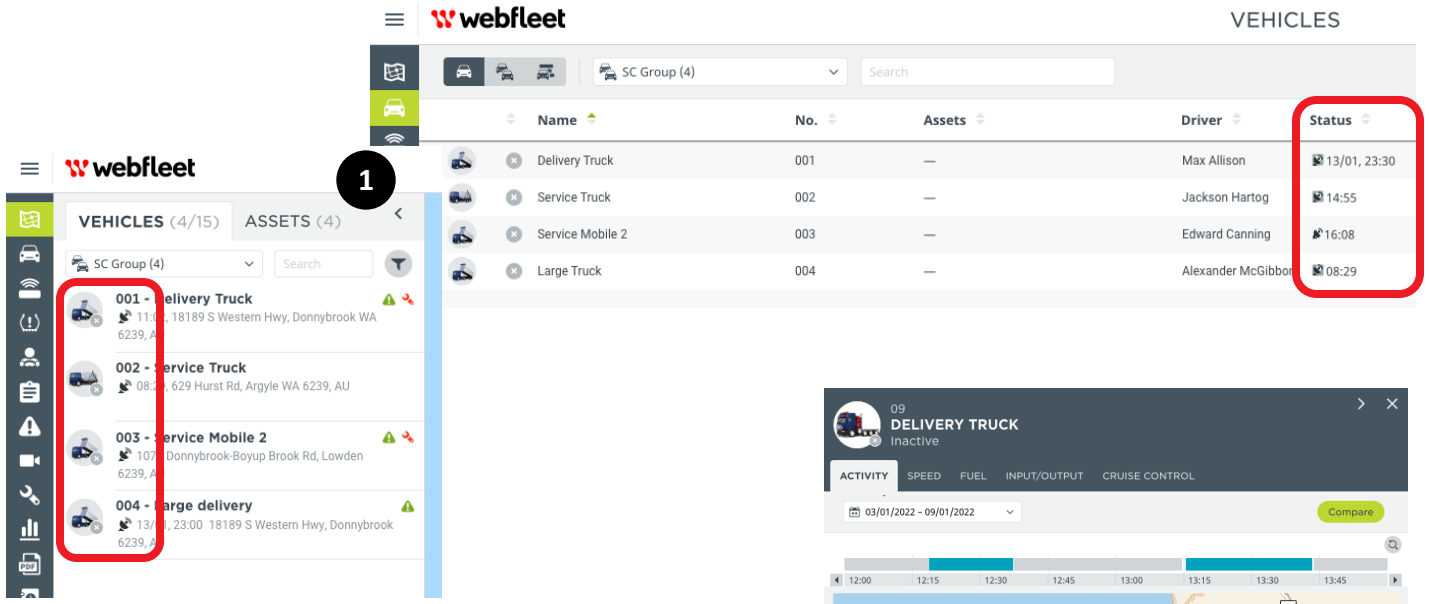

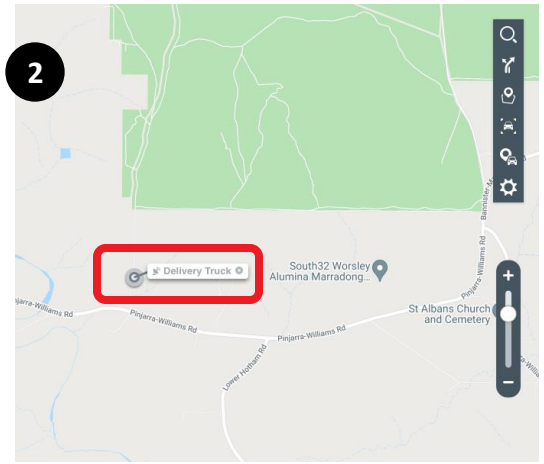

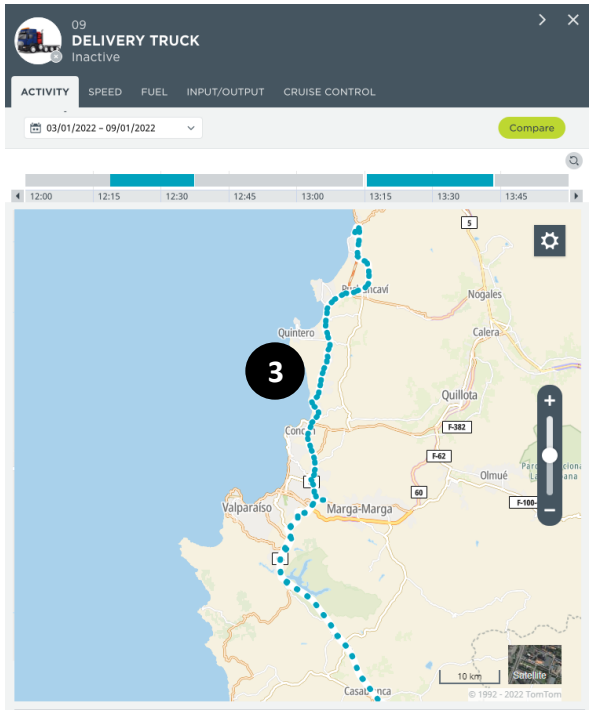

1 - Data storage capacity may vary dependent on the number of events when outside network coverage. As indication it may go up to 40 hours.

Iridium Short Burst Data – our key differentiator

Learn how your fleet is covered anywhere in the globe

- Most satellites are geostationary (GEO) positioned at 35,000km (22,000mi) from Earth, which can cause weaker signals and slower connections.
- Iridium Short Burst Data is technology that makes it simple and reliable to track and monitor assets across the globe.
- Iridium uses a wide mesh of Low Earth Orbit (LEO) satellites located at 780km (485mi) to provide stronger signals and faster connections.
- Iridium LEO satellite's communication frequencies are more resiliant to weather conditions than GEO networks, providing reliable communication even in adverse conditions in the air, on the sea or on the ground.
- Iridium Edge uses Iridium Short Burst Data technology to transmit tracking data from vehicles and assets wherever they are, from oil equipment in an Argentinian desert to trucks running across the deserts of Chile.

iridium® connected

Benefits

Stay connected to your vehicles

- Always know your fleet's position and the routes they have taken when running beyond cellular coverage via Iridium Satellite Network.
- Be alerted when a vehicle leaves or enters a defined area, even beyond cellular coverage.

Avoid the risk of not knowing your drivers' whereabouts

- Iridium Edge add-on allows Webfleet to provide reliable tracking of vehicles in remote areas.

Robust design for harsh environments

- The rugged box is connected to a robust power supply for industrial installations.

Put data security first

- Ensure data security and privacy with the help of our end-to-end security design.

Requirements and price

- Requirements
  - Supported only with LINK 710 or LINK 740 – it requires input/output doors for Iridium Edge connection
  - LINK firmware versions required – 10.0 and above
  - Iridium Edge satellite modem
  - Supported tariffs: TRACK or LINK and higher
  - Supported sales region: International (Australia and Chile)

- Features requirements
  - Feature is billed on a monthly basis
  - Minimum 12-month contract

- Commercial terms
  - Additional service (price per vehicle per month, including satellite data subscription[1])
    - Webfleet SAT S : AUD 32.95 / CLP 19,900 (includes 17KB of satellite data, approx. 35 hours of service[1])
    - Webfleet SAT M : AUD 46.95 / CLP 27,900 (includes 30KB of satellite data, approx. 60 hours of service[1])
    - Webfleet SAT L : AUD 69.95 / CLP 41,900 (includes 45KB of satellite data, approx. 90 hours of service[1])
  - Activation fee: AUD 29.95 / CLP 15,900
  - Device standalone price:
    - Iridium Edge AUD 490.00 / CLP 279,900 (available in rental)
  - Accessories:
    - LINK adapter cable (incl. power supply) AUD 35.00 / CLP 19,900

1 - The service includes up to 17/30/45KB (S/M/L) per vehicle per calendar month, approximately 35/60/90 hours (S/M/L) of satellite data service (it may vary, depending on actual messages size). A notification is sent when 80% of the monthly limit is reached. When 100% is reached, the service will be suspended until the end of the month and automatically reactivated the following month.

Technical specifications

Dimensions	Enclosure: 123.2 x 78.4 x 30.3 mm / 4.85 x 3.08 x 1.19 inches Pigtail cable: 270 mm / 10.62 inches
Weight	205g / 7.23oz
Material	(Enclosure) Lexan EXL 9330 - (Grey plug) Formosacon FM090
Supply voltage	9 V / 32 V
Power Down Consumption	200 uA
Power during Transmission	1.6 W
Temperature	Operation:-40 °C to +85 °C / -40 °F to +185 °F Storage: -40 °C to +85 °C / -40 °F to +185 °F
Protection class	IP67
Network	Iridium® Short Burst Data (SBD)
Antenna	Built in Iridium satellite antenna (1616 MHz to 1626.5 MHz)

Competition – summary (internal use only)

Company name	Region	Verticals	Solutions	Satellite provider
Teletrac Navman	Australia, USA, Mexico	Transport, Construction, Services, Passenger transport, Logistics, Oil, Mining & Gas	Asset/Vehicle tracking, Routing, Scheduling, Fatigue Management, Maintenance, Fuel management, Cameras	Iridium
Ctrack	Australia	Construction, Distribution, Mining, Services, Utilities, Transport, Logistics	Asset/Vehicle tracking, Routing, Scheduling, Fatigue Management, DVIR, Cameras	Iridium
Pinpoint	Australia	Transport, Logistics, Services, Utilities, Oil, Mining & Gas	Navigation (maps, speed limits), DVIR, Asset tracking, Driving behaviuor, Geofencing, Driver ID	Iridium
Mix Telematics	Australia	Public transport, Oil, Mining & Gas, Transport, Construction, Utilities, FMCG, Emergency services, Security	Driver and vehicle management, Reporting, Events, Geofencing, Driver safety	Iridium and Orbcomm/Inmarsat
Intellitrac	Australia	Public transport, Oil, Mining & Gas, Transport, Construction, Utilities, Emergency services, Security	Fleet tracking, Fatigue management, Lone workers, Insurance, Waste management, Dispatching, Fuel tax/card, DVIR/Checklists	Iridium (2-way) and Globalstar (1-way)
Coretex	Australia	Transport, Logistics, FMCG, Construction, Waste management	ELD, Fatigue management, Driving behaviour, DVIR/Checklists, Cameras, Trailers	N/A
Ufind	Australia	Security, Agricultural, Services, Constructions, FMCG, Rental, Transportation	Fleet management, asset tracking, SVR, Driver ID, Driving behaviour, safety	Iridium SBD
Verizon.connect	Australia	Construction & heavy equipment, Utilities, Services, Waste management, Transportation, Logistics, Oil, Gas & Mining	Fleet tracking, Asset tracking, Cameras, Fatigue management, ELD, DVIR/Checklist	N/A
Blackhawk	Australia	Aviation, Logistics, Hire and Rental, Civil Construction, and Agriculture	Asset tracking, Geofence, Reporting, Dashboards, DVIR/Cehcklists, Maintenance	Iridium SBD
GPS Chile	Chile	Mining, Transport, Passenger transport, Distribution, Leasing, Construction	Fleet management, cool chain, SVR, Efficiency, Cameras/Mobileye, Accident detection, Dashboard/KPIs	N/A
Wisetrack	Chile	Mining, Transport, Passenger transport, Distribution, Leasing, Construction	Dashboard/KPIs, Safety, Security	N/A
Tracktec	Chile	Mining, Transport, Passenger transport, Distribution, Services	Fatigue management, Cameras/Mobileye, Asset management, Fuel management, Fleet management, Trailer tracking, Fatigue management, Cool chain, Driver/Passengers ID	Orbcomm/Inmarsat IsatSat Pro (2-way)
Omnitracs	Mexico	Mining, Transport, Passenger transport, Distribution, Services	Fatigue management, DVIR, IFTA, Cameras, Navigation, Fleet management	N/A
Globalstar	Mexico	Oil & Gas, Maritime, Emergency, Forestry, Construction, Utilities	Asset tracking, Security, Emergency, Lone workers	Globalstar
Orbcomm	Mexico, South Africa	Transportation, Heavy Equipment, Maritime, Energy, Government, Agriculture, Oil, Mining & Gas	Trailer tracking	Orbcomm OG2 and Inmarsat IsatSat Pro (both 2-way)

BRIDGESTONE

Solutions for your journey

Copyright © Bridgestone Corporation